RAINBOW SIX: EXTRACTION

MAP RESEARCH

Ionica Eugen-Nicolae

Alaska Nome

Nome AK

submaps

3500m2

Docks

CQC — LR

IN — OUT

3500m2

Plane crash

CQC — LR

IN — OUT

3500m2

Mining camp

CQC — LR

IN — OUT

Nome AK-

Main References

Mining camp

Plane crash

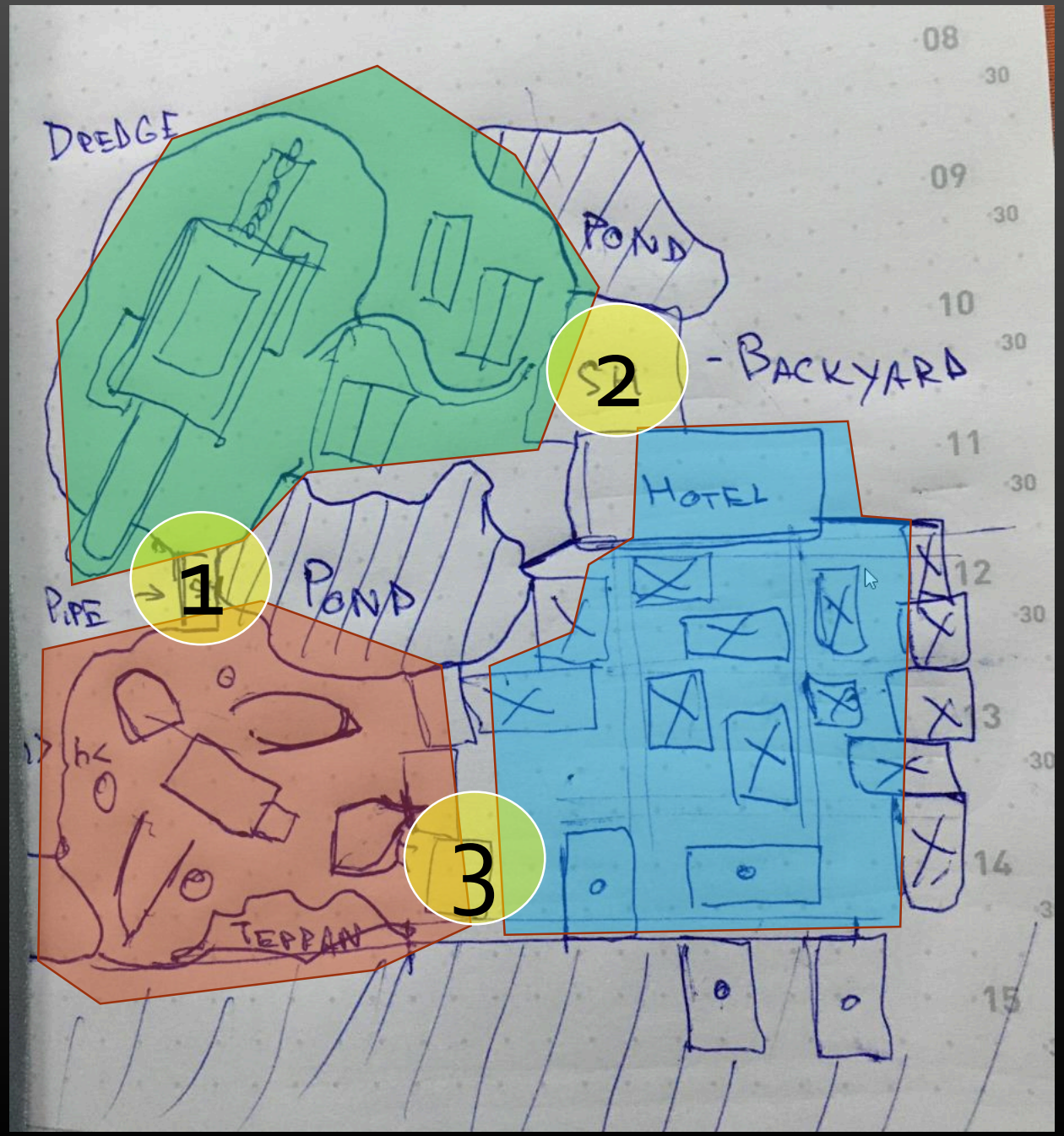

Docks

Nome AK- Plane crash

Russian AN-225

The plane is broken in parts with small hills and ponds around. Can be played in and outside. Indoor is the biggest part

Nome AK- Plane crash

Russian AN-225

Zone 1: Front, 2 height levels

Upper level: Cockpit and pilots quarters

Lower level: Loading bay with trucks and supplies on pallets

Fuselage partitioned in 2 zones

Zone 2: Tail zone loaded with with mobile CBRN labs – 1 height level

Nome AK- Mining camp

People used to live and work here



Poor shacks + abandoned heavy gold rush machineries

Fuel dumps



Multi level verticality, high destruction, in and out with catwalks

The abandoned dredge will be played in interior. A lot of wood panels and walls.
It is huge-see the ATVs near it on the ground

Nome AK- Docks



Outdoor Iconic streets plus landmarks

Shore hotel playable indoor

Nome AK- elevation and landmarks

Elevation 0/1/2

North- White Alice-Outskirts

Dredge

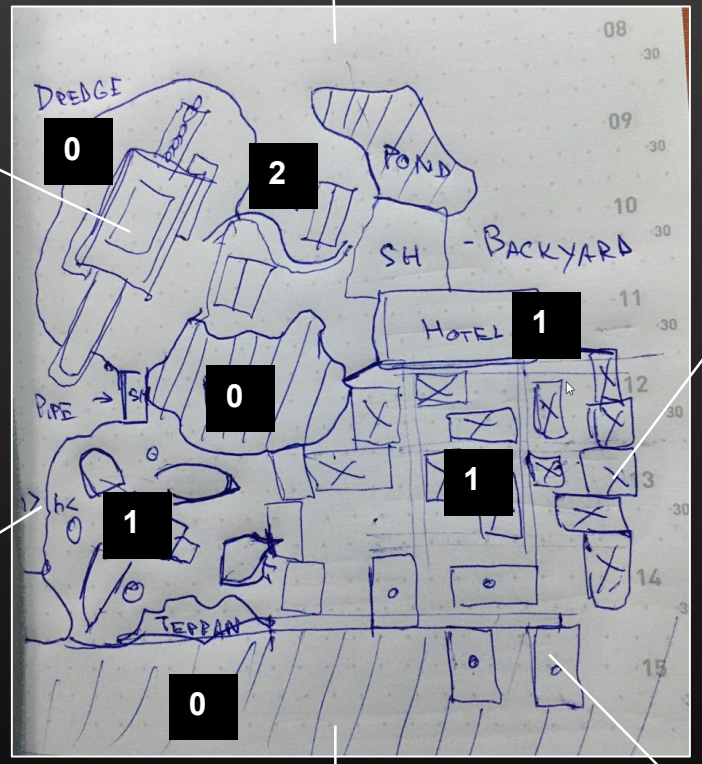



East- Church-part of the town

West- Wind farm-Could be part of the crash site

South- Petrol tanker Outskirts

South-Sailing boats with long sewards-part of the town